AST-27
REV. 06/08

Check if Amendment ☐
Check if Error Correction ☐

Sheet 1

ALABAMA UNIFORM TRAFFIC CRASH REPORT

# Vehicles	# Pedestrians	# Injured	# Fatalities	# Unit 1 Type	Unit 2 Type
2	0	0	0	6	3

Crash Report Case No. 3669095

Local Case No. M2230603014

LOCATION AND TIME

Date (Month / Day / Year)	Time	Day of Week	County	City	Rural ☐	Local Zone
06 / 26 / 2023	1803 MT	Mon	Mobile	Mobile		40

Hwy Class.	On Street, Road, Highway	At Intersection of or Between (Node 1)	And (Node 2)
4	SPRING HILL AVE	MUSEUM DR	

(On) Street/ Road/Hiway <--- Code		1 2 <--- ---> Node Code		From Node 1
7101	7039		N/A	N/A

Mile Post	Control Access Hwy Loc	Primary Contrib Circums	Primary Contributing Unit #	First Harmful Event	First Harmful Event Location	Most Harmful Event
N/A	97	15	1	22	1	22

Distance to Fixed Object	Roadway Junction/ Feature	Manner of Crash	Lat Coordinate	Long Coordinate	Coordinate Type	Hwy Side
N/A feet	23	7	NC	NC	97	4

School Bus Related	Crash Severity	Distracted Driving
1	O	99

UNIT 1 — DRIVER

UNIT NO: 1
☐ LEFT SCENE
☐ COM VEH
☑ VEHICLE or ☐ NON-MOTORIST

Driver Full Name	Street Address	City and State	ZIP	Telephone
WILLIAM BENEDICT BLANCHETTE	1464 CHURCH ST	MOBILE AL	366041951	(251) 229-8459

DOB (Month / Day / Year)	Race	Sex	DL State	Driver License No.	DL Class	DL Status	Restrict Violations	CDL Status	Endorse Violations
11 / 16 / 2005	1	1	AL	10241397	D	C	97	97	97

Place of Employment	Residence Less Than 25 Miles
97	Yes

Liability Insurance Co.	Liability Policy No.	Insurance NAIC Number
State Farm	3475813-D29-01	

Driver Condition	Sobriety/ Officer Opinion	Alcohol:	Drugs:	Type Alcohol Test Given	Alcohol Test Results	Type Drug Test Given	Drug Test Results	Maneuver
1		No	No	6	N/A	4	97	10

Most Harmful Event for MV	Travel Road Name	Road Code	Travel Direction	Unit Contributing Circumstance	Total Injuries in Unit
22	SPRING HILL AVE	7101	4	15	0

Sequence of Events	Event 1	Event 2	Event 3	Event 4	First Harmful Event Location
	22	97	97	97	1

VEHICLE

Veh Year	Make	Veh Model	Body	V.I.N.
2016	BMW	I3 RANGE EXTENDER ELECTRI	4	WBY1Z4C54GV505480

Owner's Name	License Tag Number	State	Year
BRIAN BLANCHETTE	2A00P4B	AL	2024

Street or R.F.D.	City	State	Zip
1464 CHURCH ST	MOBILE	AL	36604-1951

Type	Usage	Emergency Status	Placard Status	Placard Required	Hazardous Cargo	Hazardous Cargo Released?
6	1	97	3	97	97	97

Attachment	Oversized Load	If Yes, Did Owner Have Permit?	Contrib Defect	Speed Limit	Est Speed	Citation Offense(s) Charged
1	N/A	N/A	1	45 MPH	Unk MPH	None

Damage Severity	Towed?	Vehicle Towed By Whom:
4	1	INSURANCE

Towed To Where: INSURANCE

Areas Damaged Are Shaded

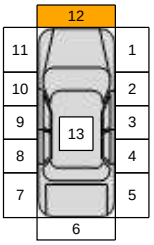

Point of Initial Impact 12

UNIT 2 — DRIVER

UNIT NO: 2
☐ LEFT SCENE
☐ COM VEH
☑ VEHICLE or ☐ NON-MOTORIST

Driver Full Name	Street Address	City and State	ZIP	Telephone
GABRIEL THOMAS PERKINS	5329 HUMMINGBIRD DR W	SATSUMA AL	365722436	(251) 533-1416

DOB (Month / Day / Year)	Race	Sex	DL State	Driver License No.	DL Class	DL Status	Restrict Violations	CDL Status	Endorse Violations
08 / 09 / 2003	1	1	AL	9916650	D	C	97	97	97

Place of Employment	Residence Less Than 25 Miles
97	Yes

Liability Insurance Co.	Liability Policy No.	Insurance NAIC Number
Progressive	941412692	

Driver Condition	Sobriety/ Officer Opinion	Alcohol:	Drugs:	Type Alcohol Test Given	Alcohol Test Results	Type Drug Test Given	Drug Test Results	Maneuver
1		No	No	6	N/A	4	97	15

Most Harmful Event for MV	Travel Road Name	Road Code	Travel Direction	Unit Contributing Circumstance	Total Injuries in Unit
22	SPRINGHILL AVE	7101	4	15	0

Sequence of Events	Event 1	Event 2	Event 3	Event 4	First Harmful Event Location
	22	97	97	97	1

VEHICLE

Veh Year	Make	Veh Model	Body	V.I.N.
2002	CHEV	1500 SLVR 15 4X2 8G 4.8	1	1GCEC14V52Z317232

Owner's Name	License Tag Number	State	Year
LORI PHELPS	2A0C54U	AL	2023

Street or R.F.D.	City	State	Zip
586 MARGIANA DR	SATSUMA	AL	36572-2902

Type	Usage	Emergency Status	Placard Status	Placard Required	Hazardous Cargo	Hazardous Cargo Released?
3	1	97	3	97	97	97

Attachment	Oversized Load	If Yes, Did Owner Have Permit?	Contrib Defect	Speed Limit	Est Speed	Citation Offense(s) Charged
1	N/A	N/A	1	45 MPH	Unk MPH	None

Damage Severity	Towed?	Vehicle Towed By Whom:
2	3	97

Towed To Where: 97

Areas Damaged Are Shaded

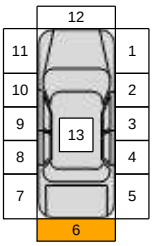

Point of Initial Impact 6

Seating Position Codes

2, 4, or 6 Passenger	9 Passenger (add):	12 Passenger (add):	Bicycle, Motorcycle, ATV	
1 2 3	7 8 9	17 18 19	10	12 - Pedestrian
4 5 6			11	13 - Rider of Domestic Animal
				14 - Occ. of Non-Motorized Vehicle
				15 - Passenger of Bus

16 - Not in Passenger Compartment
97 - Not Applicable
98 - Other (Explain)
99 - Unknown

UNINJURED OCCUPANTS

Unit No	Seat Pos	Occ. Type	Safety Equip.	Air-bag	Age Code	Sex	Ejec-tion	Birth Date
1	1	1	2	4	6	1	1	11/16/2005
1	4	2	2	4	5	99	1	03/29/2010

Unit No	Seat Pos	Occ. Type	Safety Equip.	Air-bag	Age Code	Sex	Ejec-tion	Birth Date
1	3	2	2	4	5	99	1	10/30/2008
2	1	1	2	4	6	1	1	08/09/2003

DIAGRAM

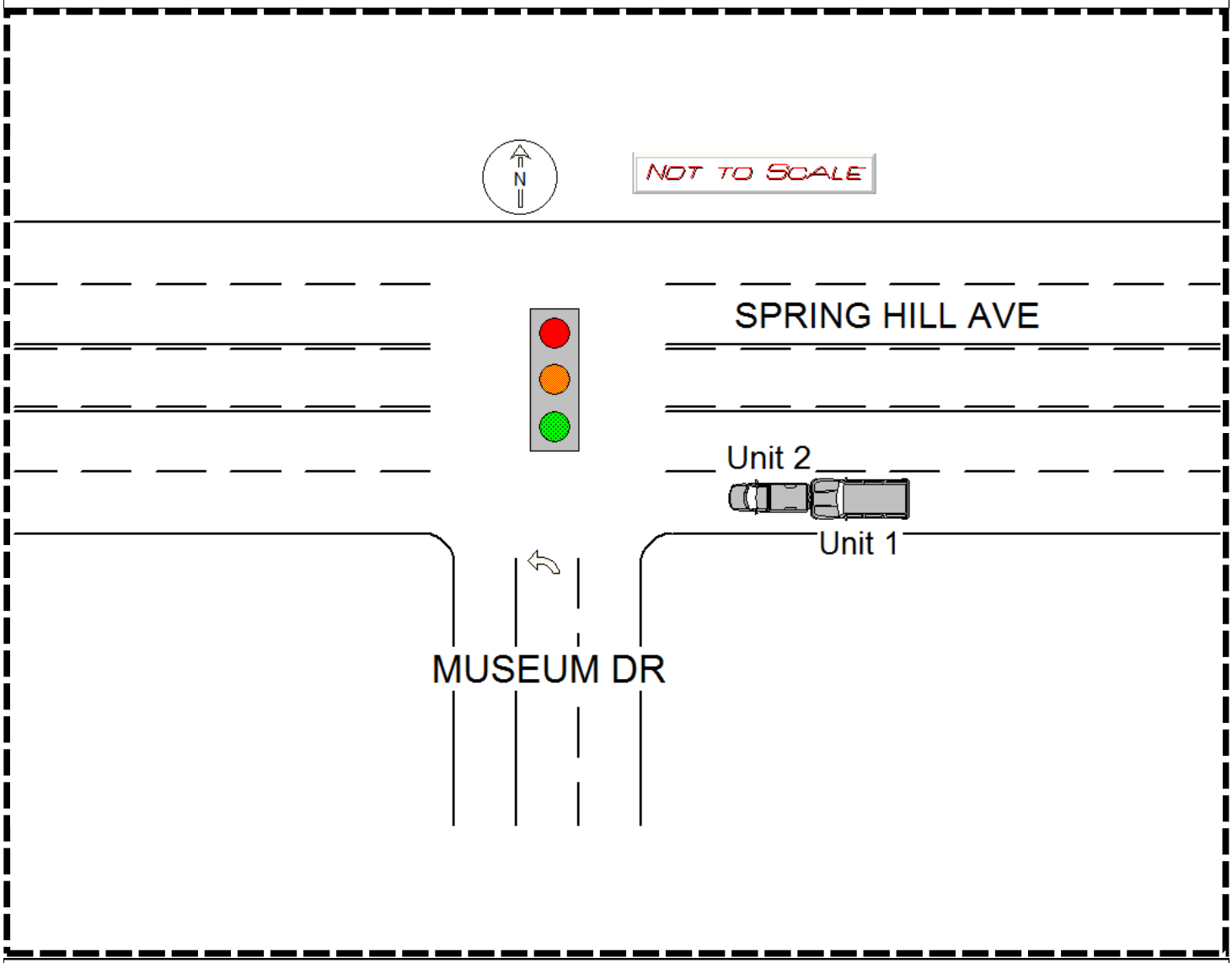

NARRATIVE

UNIT 2 STATED HE WAS STOPPED AT THE RED LIGHT WHEN UNIT 1 REAR ENDED HIM. UNIT 1 ADMITTED FAULT ON SCENE AND STATED HE REAR ENDED UNIT 2 ON ACCIDENT.

BODY WORN CAMERA ACTIVE

ROADWAY ENVIRONMENT

Unit No.	1	Involved Road/ Bridge	1	Road Surface Type	1	Roadway Condition	1	Workzone Related?	1	Workzone Type	97	Workers Present ?	NotApplicable	Workzone Law Enforcement Present?	97	Contributing Circumstances Environment	1	Contrib Matl In Roadway	1
Contrib Material Source	97	Rdway Curve & Grade	1	Vision Obscured By	1	Traffic Control	6	Traffic Control Functioning	1	Opposing Lane Separation	2	Trafficway Lanes	4	Turn Lanes	2	One-Way Street	No	Total # Occupants In Unit	3
Total # Injured in Unit	0	Total # Killed in Unit	0																

Total Number of Units	Light	Weather	Locale	Police Present?	DOT Railroad Crossing No.
2	1	1	3	No	N/A

ROADWAY ENVIRONMENT

Unit No.	2	Involved Road/ Bridge	1	Road Surface Type	1	Roadway Condition	1	Workzone Related?	1	Workzone Type	97	Workers Present ?	NotApplicable	Workzone Law Enforcement Present?	97	Contributing Circumstances Environment	1	Contrib Matl In Roadway	1

Contrib Material Source	97	Rdway Curve & Grade	1	Vision Obscured By	1	Traffic Control	6	Traffic Control Functioning	1	Opposing Lane Separation	2	Trafficway Lanes	4	Turn Lanes	2	One-Way Street	No	Total # Occupants In Unit	1	Total # Injured in Unit	0	Total # Killed in Unit	0

Total Number of Units	Light	Weather	Locale	Police Present?	DOT Railroad Crossing No.
2	1	1	3	No	N/A

INVESTIGATION

Name of Photographer			
N/A			
Time Police Notified	**Time Police Arrived**	**Time EMS Arrived**	**EMS Response Run #**
1803 MT	1840 MT	N/A	N/A

Name of Investigating Officer	Officer ID	Agency ORI
Keith Z Barginear	19259	AL0020100
Name of Investigating Officer	Officer ID	Agency ORI

The data on this report reflects the best knowledge, opinion, and belief regarding the crash, but no warrant is made as to the factual accuracy thereof.

LEGEND

Location	Category	Code	Description	Location	Category	Code	Description
Report Header	Unit Type	3	Pick-up	Driver	Residence Within 25 Miles	Yes	Yes
Report Header	Unit Type	6	Sport utility vehicle (SUV)	Driver	Travel Direction	4	West
Location And Time	Contributing Circumstance	15	Followed too close	Vehicle	Attachment	1	None
Location And Time	Contributing Unit	10	Unit1	Vehicle	Body	1	Two door
Location And Time	Controlled Access Highway Location	97	Not a controlled access highway	Vehicle	Body	4	Four door with rear entry
Location And Time	Coordinate Status	NC	NoCapability	Vehicle	Citation Offense	99	None
Location And Time	Coordinate Type	97	Not applicable	Vehicle	Damage Severity	2	Minor
Location And Time	Crash Manner	7	Rear end (front-to-rear)	Vehicle	Damage Severity	4	Major, disabled
Location And Time	Crash Severity	O	Property damage only	Vehicle	Defect	1	None
Location And Time	Distance Node Unit	0	Unknown	Vehicle	Emergency Status	97	Not applicable
Location And Time	Distracted Driving	99	Unknown	Vehicle	Estimated Speed Code	Unk	Unknown
Location And Time	Harmful Event	22	Collision with vehicle in traffic	Vehicle	Hazardous Cargo	97	Not applicable
Location And Time	Highway Classification	4	County	Vehicle	Hazardous Cargo Release Type	97	Not applicable
Location And Time	Highway Side	4	Westbound	Vehicle	K12 Child Going To Or From School	0	Not Set
Location And Time	Roadway Feature	23	T-intersection	Vehicle	Make	BMW	BMW
Location And Time	School Bus Related	1	No school bus involved	Vehicle	Make	CHEV	Chevrolet
Location And Time	Time Display Format	20	Military	Vehicle	Non-Motorist Action	0	Not Set
Driver	Alcohol Test Type	6	No Test Given	Vehicle	Non-Motorist Location	0	Not Set
Driver	Commercial Driver License Status	97	Not applicable / unlicensed	Vehicle	Oversized Load	N/A	NotApplicable
Driver	Contributing Circumstance	15	Followed too close	Vehicle	Oversized Load Permit	N/A	NotApplicable
Driver	Driver Address Code	0	Not Set	Vehicle	Owner Address Code	0	Not Set
Driver	Driver Condition	1	Apparently normal	Vehicle	Owner Name Code		Not Set
Driver	Driver License Class Code	0	Not set	Vehicle	Placard Requirement	97	Not applicable
Driver	Driver License Endorsement	97	Not applicable	Vehicle	Placard Status	3	Not applicable (placard not required)
Driver	Driver License Number	0	Not set	Vehicle	Tag Number		Not set
Driver	Driver License Restriction	97	Not applicable	Vehicle	Tag State	0	Not set
Driver	Driver License State Code	0	Not set	Vehicle	Tag Year	0	Not set
Driver	Driver License Status	C	Current / valid	Vehicle	Tow Status	1	Towed due to disabling damage
Driver	Driver Name Code	0	Not Set	Vehicle	Tow Status	3	Not towed
Driver	Drug Test Result	97	Not applicable	Vehicle	Towed Code	0	Not Set
Driver	Drug Test Type	4	No test given	Vehicle	Towed Code	97	Not applicable
Driver	Gender	1	Male	Vehicle	Unit Type	3	Pick-up
Driver	Harmful Event	22	Collision with vehicle in traffic	Vehicle	Unit Type	6	Sport utility vehicle (SUV)
Driver	Liability Ins. Policy Code	0	Not Set	Vehicle	Usage	1	Personal vehicle
Driver	Liability Insurance NAIC Number Code		Not Set	Vehicle	VIN	0	Not set
Driver	Maneuver	10	Slowing / stopping	Vehicle	Year		Not set
Driver	Maneuver	15	Stopped in Traffic	Uninjured Occupants	Age Code	5	13 - 15
Driver	Phone Number Code	0	Not Set	Uninjured Occupants	Age Code	6	16 - 20
Driver	Place of Employment	97	Not applicable	Uninjured Occupants	Airbag	4	Not deployed, switch on
Driver	Race	1	White / Caucasian	Uninjured Occupants	Birth Date Code	0	Not Set

LEGEND

Location	Category	Code	Description	Location	Category	Code	Description
Uninjured Occupants	Ejection Status	1	Not ejected or trapped				
Uninjured Occupants	Gender	1	Male				
Uninjured Occupants	Gender	99	Unknown				
Uninjured Occupants	Occupant Type	1	Driver				
Uninjured Occupants	Occupant Type	2	Passenger				
Uninjured Occupants	Safety Equipment	2	Shoulder and lap belt used				
Roadway Environment	Environmental Contributing Circumstance	1	None apparent				
Roadway Environment	Light Condition	1	Daylight				
Roadway Environment	Locale	3	Shopping or business				
Roadway Environment	Opposing Lane Separation	2	Paved surface				
Roadway Environment	Road Bridge Condition	1	None apparent				
Roadway Environment	Road Surface Type	1	Asphalt				
Roadway Environment	Roadway Condtion	1	Dry				
Roadway Environment	Roadway Curvature And Grade	1	Straight, level				
Roadway Environment	Roadway Material	1	None				
Roadway Environment	Roadway Material Source	97	Not applicable				
Roadway Environment	Traffic Control	6	Traffic signals				
Roadway Environment	Traffic Control Status	1	Yes				
Roadway Environment	Trafficway Lane Count	4	Four lanes				
Roadway Environment	Turn Lane Presence	2	Left turn lane(s) only				
Roadway Environment	Vision Obscuration	1	Not obscured				
Roadway Environment	Weather Condition	1	Clear				
Roadway Environment	Workzone Law Encorcement Presence	97	Not applicable				
Roadway Environment	Workzone Relationship	1	Not in / related to workzone				
Roadway Environment	Workzone Type	97	Not applicable				